KINONI TOWN COUNCIL & LWENGO DISTRICT

Comprehensive Community Analytics Report

Central Region, Uganda

Prepared for:	Project Tapestry
Purpose:	ROSA Energy Conference & Kinoni ICT Hub Planning
Date:	January 2026
Data Sources:	Uganda Bureau of Statistics, World Bank, UNICEF, PRB

TABLE OF CONTENTS

1. Executive Summary

2. Population Demographics

3. Infrastructure & Utilities

4. Health Indicators

5. Education

6. Digital Connectivity

7. Climate & Natural Disasters

8. Regional Context

9. Key Findings & Recommendations

10. Data Sources & Citations

1. EXECUTIVE SUMMARY

This report provides a comprehensive analysis of Kinoni Town Council and Lwengo District, Uganda, compiled to support the Project Tapestry initiative and planning for the Community ICT and Cultural Knowledge Hub. Key findings reveal both significant challenges and opportunities for technology-enabled community development.

Key Metrics at a Glance

Indicator	Value	Context
Kinoni Population	17,137	2024 Census
Lwengo District Population	325,263	68,671 households
Water Access	73%	320 of 438 villages
Rural Electricity	9.1%	Major infrastructure gap
Internet Penetration	27%	73% population offline
Life Expectancy	68 years	Up from 63 in 2014
Primary Completion	45%	Below national target
Climate Vulnerability	10th / 182	Global ranking

2. POPULATION DEMOGRAPHICS

Kinoni Town Council, located in Lwengo District within Uganda's Central Region, has a population of 17,137 according to the May 2024 National Population and Housing Census. The district as a whole has grown significantly, from 212,600 in 1991 to 325,263 in 2024—a 53% increase over three decades.

Kinoni Town Council Demographics (2024)

Category	Population	Percentage
Total Population	17,137	100%
Male	7,168	41.8%
Female	9,969	58.2%
Children (0-14)	5,753	33.6%
Working Age (15-64)	10,628	62.0%
Elderly (65+)	756	4.4%

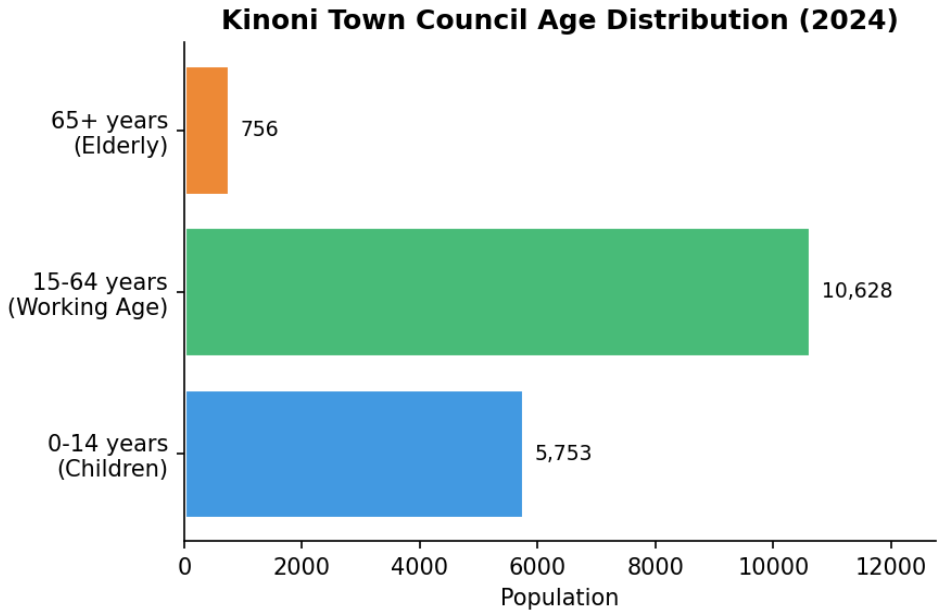

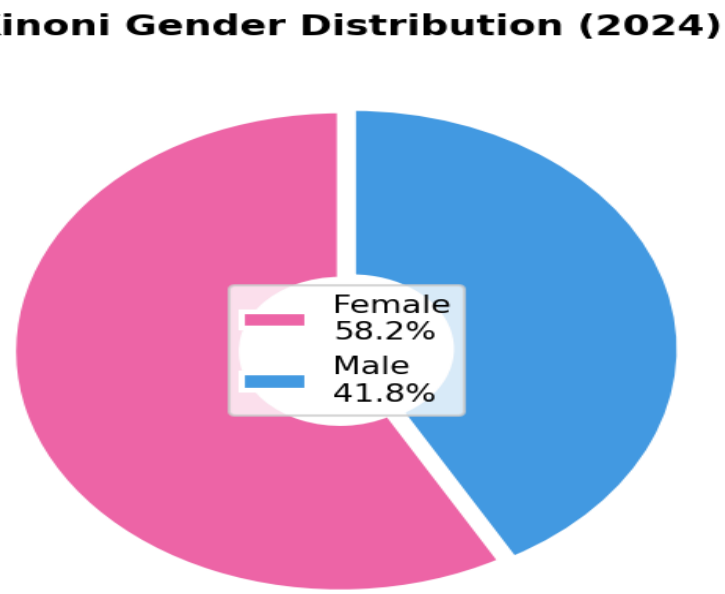

District Population Growth Trend

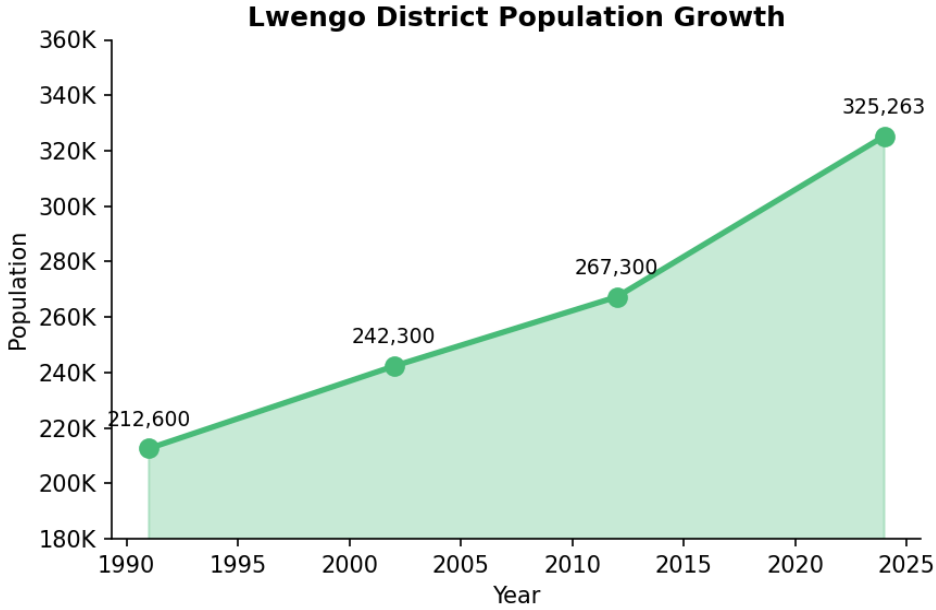

Source: Uganda Bureau of Statistics, NPHC 2024

3. INFRASTRUCTURE & UTILITIES

Water Access

According to district reports from December 2024, 320 of 438 villages (73%) in Lwengo District have access to safe water sources. However, 118 villages still lack access. The district is served by several piped water systems, with Kinoni's system serving approximately 11,790 residents.

Piped Water System	Population Served
Nkoni Town	55,150
Mbirizi	38,590
Kyazanga	22,000
Kinoni	11,790
Kamuzinda	~5,000

Electricity Access

Uganda's national electricity access stands at 53%, but rural grid coverage remains critically low at just 9.1%. Approximately 23 million Ugandans lack reliable electricity access. Off-grid solar solutions serve about 3 million households, representing a critical opportunity for the Kinoni ICT Hub infrastructure planning.

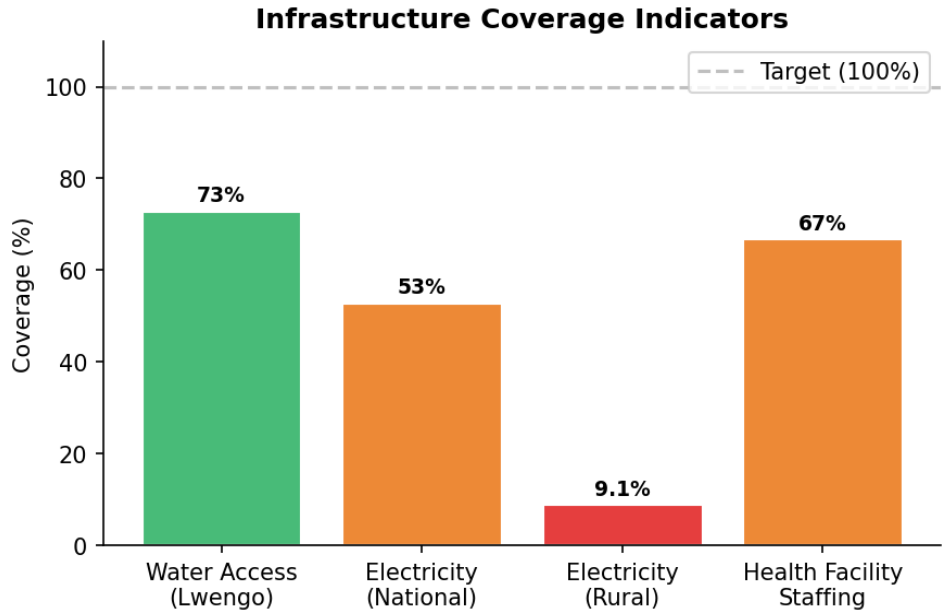

Sources: UBOS 2024, World Bank, Uganda Electricity data

4. HEALTH INDICATORS

Uganda has made significant progress in life expectancy, rising from 63 years in 2014 to 68 years in 2024. However, significant disparities remain: Teso region reports the highest life expectancy at 78 years, while Ankole region has the lowest at 60 years.

Indicator	Value	Notes
Life Expectancy (Overall)	68 years	UBOS 2024
Life Expectancy (Male)	66.9 years	-
Life Expectancy (Female)	70.1 years	-
Infant Mortality	34 per 1,000	Under 1 year
Under-5 Mortality	41 per 1,000	UNICEF 2022
Maternal Mortality	440 per 100,000	Live births
Health Facility Staffing	67%	Lwengo District
Unmet Family Planning Need	20%	1 in 5 women

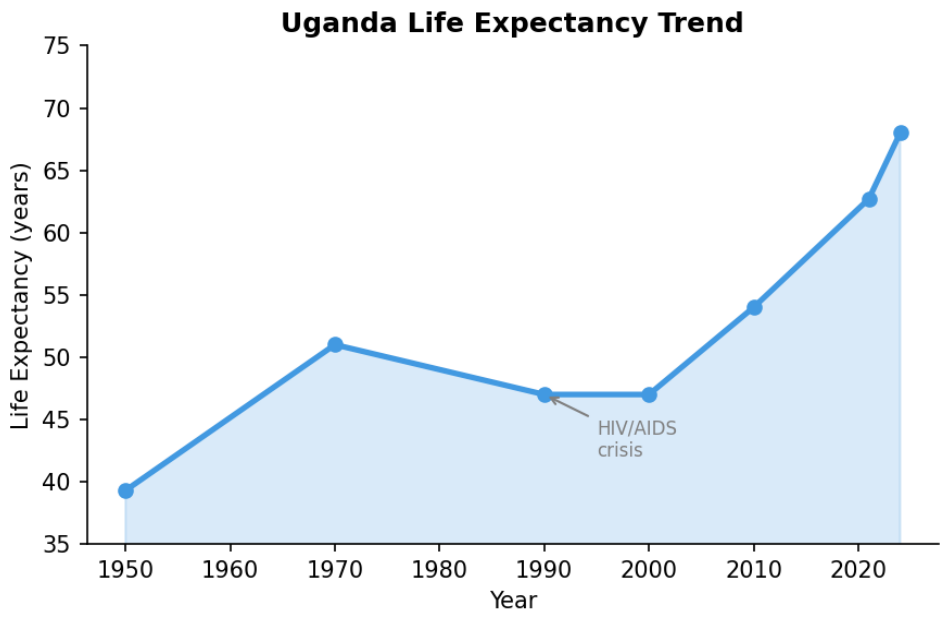

Sources: UBOS, UNICEF, PRB Lwengo District Profile

5. EDUCATION

Educational outcomes in Lwengo District present significant challenges. Only 45% of children complete primary school, and a severe sanitation crisis affects schools—only 26% of the 134 government primary schools have adequate toilet facilities. Many schools share 5 toilet stances among 400+ pupils.

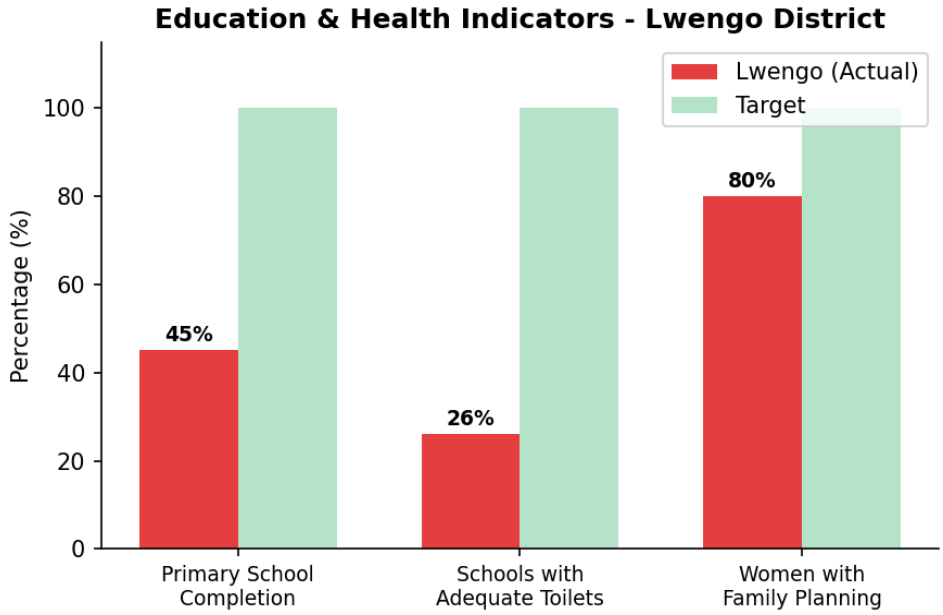

Source: PRB Lwengo District Profile, District Development Plan 2020-2025

6. DIGITAL CONNECTIVITY

Uganda's digital landscape presents both challenges and opportunities for the ICT Hub initiative. While internet penetration stands at 27% (13.3 million users), 73% of the population (36 million people) remains offline. Mobile connectivity is stronger at 67.7%, but 4G coverage reaches only 31% of the population, concentrated in urban areas.

Indicator	Value	Implication
Internet Users	13.3 million	27% penetration
Offline Population	36 million	73% without internet
Mobile Connections	33.34 million	67.7% of population
4G Coverage	31%	Urban concentrated
Rural Broadband	<30%	Critical gap
Adults Without Phones	7.5 million	4.9M women, 2.6M men
Mobile Broadband Speed	35.03 Mbps	Median speed

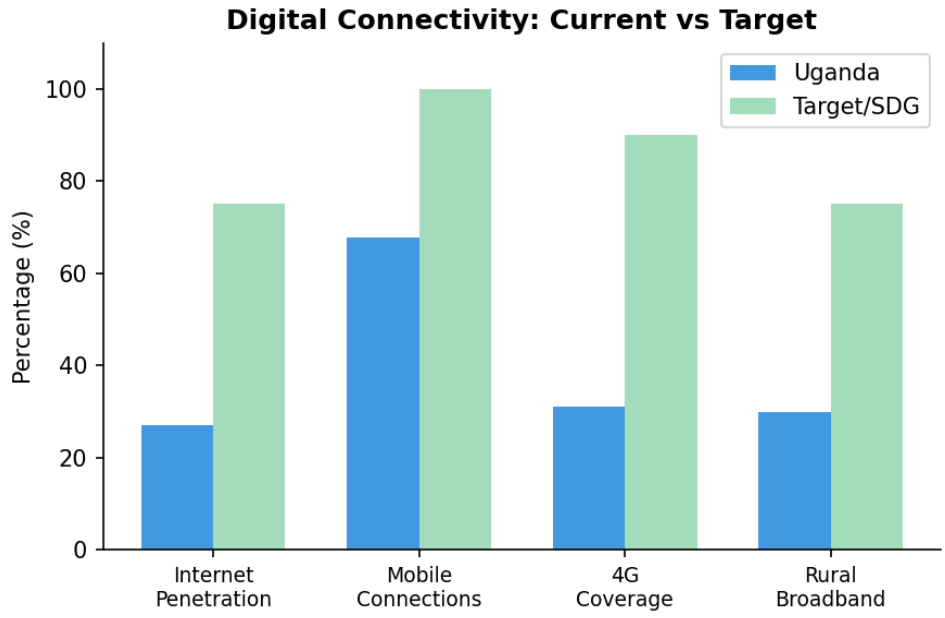

Source: DataReportal Digital 2024, Uganda Communications Commission

7. CLIMATE & NATURAL DISASTERS

Lwengo District experiences a bimodal rainfall pattern with long droughts between May-August and January-March. The district has faced increasing disasters since 2016, including hailstorms, heavy winds, prolonged dry spells, and pest outbreaks. Uganda ranks 10th globally for climate vulnerability among 182 countries.

Disaster Type	Frequency	Primary Impact
Hailstorms	Increasing since 2016	Crop destruction
Heavy Winds	Both rainy seasons	Housing damage
Long Dry Spells	May-Aug, Jan-Mar	Water scarcity
Pests & Disease	Ongoing	Agricultural loss
Flooding	Periodic	Infrastructure damage

National Disaster Statistics

• 200,000 Ugandans affected by disasters annually
• Floods impact ~50,000 people per year, costing over $62 million
• Floods account for 55% of all natural disasters (1985-2024)
• Climate vulnerability rank: 10th of 182 countries globally

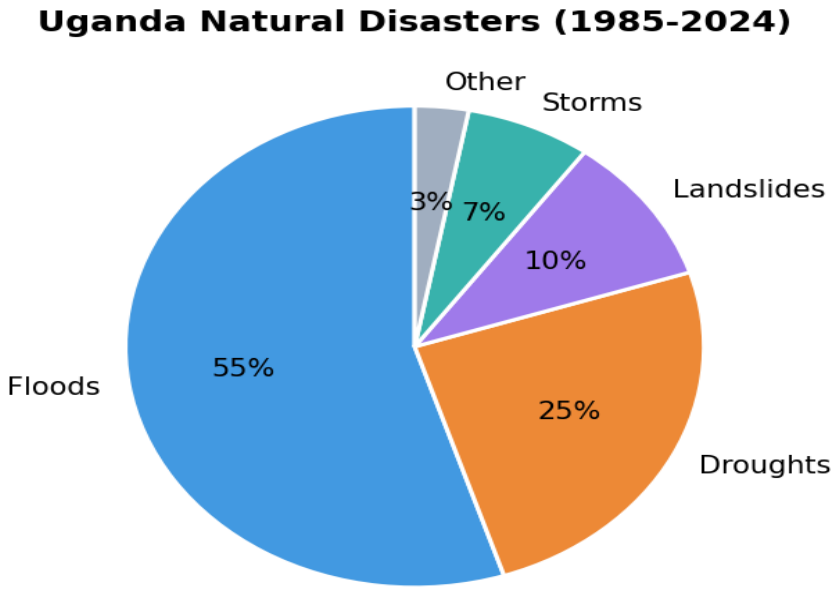

Sources: PreventionWeb, World Bank Climate Portal, IMF 2022, IntechOpen

8. REGIONAL CONTEXT

Lwengo District is located in Uganda's Central Region, approximately 45 kilometers west of Masaka (the nearest major city) and 165 kilometers southwest of Kampala (the national capital). The district covers approximately 1,024 square kilometers.

Location	Direction	Distance	Significance
Masaka City	East	45 km	Nearest major city, regional hub
Sembabule District	North	Adjacent	Cattle corridor region
Bukomansimbi District	North-East	Adjacent	Agricultural district
Rakai District	South	Adjacent	Border with Tanzania
Lyantonde District	West	Adjacent	Trans-African highway
Kampala	North-East	165 km	National capital

9. KEY FINDINGS & RECOMMENDATIONS

Critical Infrastructure Gaps

1. Power Infrastructure: With only 9.1% rural electricity access, solar infrastructure is mandatory for any ICT Hub implementation. Off-grid solutions should be prioritized.

2. Connectivity: 73% of Ugandans remain offline. Mobile-first and offline-capable solutions are essential for the target community.

3. Device Access: With 7.5 million adults lacking mobile phones, shared-device models and tablet-based learning should be considered for the ICT Hub.

Design Implications for ICT Hub

- **Solar-powered infrastructure** is non-negotiable given 9.1% rural grid coverage
- **Mobile/tablet-based learning** essential given minimal computer ownership
- **Offline-first architecture** required due to connectivity limitations
- **Integration of digital skills with cultural preservation** activities
- **Community ownership model** aligned with sovereignty principles

Alignment with Project Tapestry Principles

The research confirms alignment with Project Tapestry's core principles: the Kinoni community requires technology that doesn't extract—infrastructure that remains under community control, operates offline when necessary, and serves cultural preservation alongside digital empowerment.

10. DATA SOURCES & CITATIONS

Population Demographics

• Uganda Bureau of Statistics. "National Population and Housing Census 2024 - Preliminary Results." https://www.ubos.org/wp-content/uploads/publications/National-Population-and-Housing-Census-2024-Preliminary-Report.pdf

• Uganda Bureau of Statistics. "NPHC 2024 Data Dashboard - Kinoni Town Council." https://statistics.ubos.org/nphc/drilldown?subregion=41&district;=435&county;=4351&subcounty;=435102

• Watchdog Uganda. "President Museveni pledges to tackle persistent water shortages in Lwengo." December 19, 2025. https://www.watchdoguganda.com/news/20251219/186713/president-museveni-pledges-to-tackle-persistent-water-shortages-in-lwengo.html

• Population Reference Bureau. "Lwengo District Population Profile." 2022. https://www.prb.org/wp-content/uploads/2022/02/npc-uganda-lwengo.pdf

• Wikipedia. "Lwengo District." https://en.wikipedia.org/wiki/Lwengo_District

• Worldometer. "Uganda Population (2025)." https://www.worldometers.info/world-population/uganda-population/

Health Indicators

• Uganda Bureau of Statistics. 2024 Census health statistics.

• UNICEF/World Bank. Under-5 mortality data 2022.

• PRB Lwengo District Profile. Maternal mortality and health facility staffing data.

Digital Connectivity

• DataReportal. "Digital 2024: Uganda." January 2024. https://datareportal.com/reports/digital-2024-uganda

• Uganda Communications Commission. Mobile and broadband statistics 2024.

Climate & Natural Disasters

• PreventionWeb. "Climate Risk Country Profile: Uganda." August 2021. https://www.preventionweb.net/publication/climate-risk-country-profile-uganda

• World Bank Climate Change Knowledge Portal. "Uganda - Historical Natural Disasters." https://climateknowledgeportal.worldbank.org/country/uganda/natural-disasters-historical

• IntechOpen. "The Impacts of Climate Change in Lwengo, Uganda." June 2021. https://www.intechopen.com/chapters/76915

• IMF. "Uganda: Selected Issues." Country Report No. 22/78. March 2022. https://www.elibrary.imf.org/view/journals/002/2022/078/article-A001-en.xml

• AllAfrica/Nile Post. "Uganda: Storm Ravages Lwengo Villages." August 18, 2025. https://allafrica.com/stories/202508180539.html

Geographic & Regional Data

• Wikipedia. "Lwengo District." Location, borders, and geographic data. https://en.wikipedia.org/wiki/Lwengo_District

• Knoema. "Lwengo District Profile." https://knoema.com/atlas/Uganda/Lwengo